IRIS Regression Tests

IRIS Version: 0.96

[1 Login] [2 Profile] [3 Map Filters] [4 Buildings] [5 Right-hand Toolbar] [6 Layers] [7 Dashboard]

Login

TC - 1

Pre-conditions: You will need a registered IRIS user.

TC 1.1 - Successful Login	Expected Results	
Given I login to the NDTP app with valid credentials **When** I click the IRIS application **Then** I see the map view	Upon login the user should be on the Map view and, on the top bar see: • Search • EPC Rating • Building Type • Advanced Filters And on the right see: • Reset view • Compass • 2D/3D View • Zoom in/out • Draw filter area • Legend • Layers • Dashboard • Minimap	 Map view

TC 1.2 - Successful Logout	Expected Results	
Given I log into the NDTP app with valid credentials **And** I click the IRIS application **And** I click the profile menu **When** I click sign out **Then** I am logged out	The user should be able to log out via the profile menu options	 Login page

Profile

TC - 2

TC 2.1 - Download user guide	Expected Results	
Given I click on the profile menu **And** I click user guide **When** I click download user guide **Then** I download a pdf file of the IRIS user guide	The user should be able to download the user guide for IRIS in a pdf file format.	 Download user guide

TC 2.2 - Settings	Expected Results	
Given I click on the profile menu **When** I click settings **Then** I see the accessibility controls panel displayed	The user should be able to click settings and see the settings for accessibility controls in IRIS.	 Settings - Accessibility controls

TC 2.3 - Privacy notice	Expected Results	
Given I click on the profile menu **When** I click on privacy notice **Then** I see the privacy notice page	The user should be able to navigate to the Privacy notice page of IRIS.	 Privacy Notice page

Map Filters

TC - 3

TC 3.1 - Search bar - Address	Expected Results	
Given I am on the map view **When** I enter an address into the search bar **Then** I see suggested results for the entered address	The user should be able to search for a specific area on the map using an address/partial address.	 Partial address entered - returned suggested results

TC 3.2 - Search bar - Post code	Expected Results	

Given I am on the map view **When** I enter a post code into the search bar **Then** I see suggested results for the entered post code	The user should be able to search for a specific area on the map using a post code.	 Partial address entered with Post Code - returned suggested results

TC 3.3 - Filter by EPC Rating	Expected Results	
Given I am at a zoom level of 16 on the map **When** I apply EPC rating filters **Then** I see buildings highlighted on the map **And** I see results in the left hand panel	When at a zoom level of at least 16, the user should be able to filter by EPC rating on the map. The user should be able to select as many and as few of the EPC ratings as they want to highlight various buildings on the map.	The exact zoom level is present in the URL Filtered by EPC ratings

TC 3.4 - Filter by Building type	Expected Results	
Given I am at a zoom level of 16 on the map **When** I apply Building type filters **Then** I see buildings highlighted on the map **And** I see results in the left hand panel	When at a zoom level of at least 16, the user should be able to filter by Building type on the map. The user should be able to select as many and as few of the Building types as they want to highlight various buildings on the map.	 Filtered by Building Types

TC 3.5 - Filter by Advanced filters	Expected Results	
Given I am at a zoom level of 16 on the map **When** I apply advanced filters **Then** I see buildings highlighted	When at a zoom level of at least 16, the user should be able to filter	 Applying multiple advanced filters

on the map **And** I see results in the left hand panel	by Advanced Filters on the map. The user should be able to select as many and as few of the Advanced Filters as they want to highlight various buildings on the map.	 Advanced Filters applied - returned results

TC 3.6 - Clear filters	Expected Results	
Given I am at a zoom level of 16 on the map **And** I apply advanced filters **And** I apply EPC rating filters **And** I apply building type filters **When** I click clear all filters **Then** I see buildings highlighted on the map **And** I see no filters	The user should be able to clear all filters for each filter option on the map.	 Clear all filters button

Buildings

TC - 4

TC 4.1 - View building details	Expected Results	
Given I am at a zoom level of 16 on the map **When** I select a building on the map **Then** I see the building details	At a zoom level of at least 16, the user should be able to click on a building and view the 'Overview' of a building, displaying: • About • Specifications • Download button The user should also be able to see the 'More Info' tab, displaying: • Wind driven rain data • Icy days data • Hot summer days data	 Building details - Overview Building details - More Info

	• Hours of sunlight data • Guidance	

TC 4.2 - Download building details	Expected Results	
Given I have a building selected **When** I click the download button **And** I confirm download csv file **Then** I download the buildings details in a csv file format	The user should be able to download the details of a selected building and choose if they want this download in a xlsx or csv file format.	 Download button Download confirmation pop up for selected building address

TC 4.3 - View building details with multiple selected	Expected Results	
Given I am at a zoom level of 16 on the map **And** I apply filters **And** I toggle select multiple on **When** I select multiple buildings in the left panel **And** I click view details on a selected building **Then** I can see the building details **And** I see the left hand panel of filtered buildings **And** I see the multiple selected buildings in the left hand panel	At a zoom level of at least 16, the user should be able to filter on the map, select multiple buildings from the list of filtered buildings and then view the details of a building while maintaining the filtered list of buildings. The user should also be able to toggle the functionality of multiple building selection on and and off.	 Multiple filtered buildings selected while viewing the details of a specific building

TC 4.4 - Download building details with multiple selected	Expected Results	

Given I am at a zoom level of 16 on the map **And** I apply filters **And** I toggle select multiple on **When** I select multiple buildings in the left panel **And** I click download selected results **And** I confirm download csv file **Then** I download the selected buildings details in a csv file format	The user should be able to download the details of all selected buildings and choose if they want this download in a xlsx or csv file format.	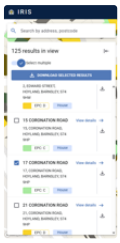 Download Selected Results button Download confirmation pop up for selected building addresses

Right-hand Toolbar

TC - 5

TC 5.1 - Map navigation	Expected Results	
Given I click zoom in multiple times **And** I click zoom out **And** I click 2D view **And** I rotate the camera **When** I click reset view **Then** I see my map view reset **And** I see I am in 2D view	The user should be able to navigate the map by using zoom in, zoom out, rotate and pan. The user should be able to switch the map view between 3D and 2D view (3D by default). The user should be able to reset the map view so that everything returns to default except for the selected 2D/3D view.	 Zoomed in (2D) Zoomed in (3D) 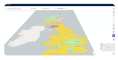 Map view after Reset

TC 5.2 - Reset to north view	Expected Results	
Given I rotate the map view **When** I click reset to north **Then** I see the map reset to north orientation	The user should be able to reset the map view to be facing north.	 Rotated 3D map view

	When the user clicks reset to north, the chosen 2D/3D view will remain the same.	Map view after Reset to north

TC 5.3 - Drawn filter	Expected Results	
Given I am at a zoom level of 16 on the map **And** I click draw filter area **When** I draw a filter area **Then** I see buildings in the drawn filtered area **And** I see results in the left hand panel	The user should be able to filter which buildings are displayed on the map and in the left hand panel by drawing a filter area on the map.	Drawn filter area on map

TC 5.4 - Drawn filter - partial selection	Expected Results	
Given I am at a zoom level of 16 on the map **And** I click draw filter area **When** I draw a filter area partially selecting buildings **Then** I see buildings in the drawn filtered area **And** I see partially selected buildings are not included in the filter	The user should not see any buildings displayed in the map or in the left hand panel that are partially selected in the drawn filter. The entirety of a building much be included in a drawn filter in order to be displayed.	Displayed buildings before drawn filter Displayed buildings after drawn filter which partially selects some buildings

TC 5.5 - Delete filter area	Expected Results	
Given I have a drawn filter area on the map **When** I click delete filter area **Then** I delete a filter area from the map	The user should be able to delete a filter area from the map.	Delete filter area

TC 5.6 - Download selected building details after zoom out	Expected Results	

Given I am at a zoom level of 16 on the map **And** I apply filters **And** I toggle select multiple on **And** I select multiple buildings in the left panel And I zoom out When I click download addresses **And** I confirm download csv file **Then** I download the buildings details in a csv file format	The user should be able to select multiple buildings, zoom out on the map view and then download the details for the selected addresses without the filter resetting.	 Download addresses button in the right-hand toolbar Download building details confirmation pop up

TC 5.7 - Legend	Expected Results	
Given I am on the map view **When** I click legend **Then** I see the epc legend for the map view	The user should be able to check the EPC rating legend for the map view.	 Legend in the right-hand toolbar

TC 5.8 - Minimap	Expected Results	
Given I am on the map view **When** I click minimap **Then** I hide the minimap from the map view	The user should be able to show/hide the Minimap in the bottom corner by clicking the Minimap button. The Minimap should be displayed by default.	 Minimap

Layers

TC - 6

TC 6.1 - Regional EPC ratings	Expected Results	
Given I am on the map view **And** I click layers **And** I click epc ratings **When** I click regions **Then** I see average epc ratings per region on the map view	The user should be able to see the average epc ratings per region of the UK given the provided data.	 EPC ratings by region

TC 6.2 - Counties EPC ratings	Expected Results	
Given I am on the map view **And** I click layers **And** I click epc ratings **When** I click counties **Then** I see average epc ratings per county on the map view	The user should be able to see the average epc ratings per county of the UK given the provided data.	 EPC ratings by county

TC 6.3 - Districts EPC ratings	Expected Results	
Given I am on the map view **And** I click layers **And** I click epc ratings **When** I click districts **Then** I see average epc ratings per district on the map view	The user should be able to see the average epc ratings per district of the UK given the provided data.	 EPC ratings by district

TC 6.4 - Wards EPC ratings	Expected Results	
Given I am on the map view **And** I click layers **And** I click epc ratings **When** I click wards **Then** I see average epc ratings per ward on the map view	The user should be able to see the average epc ratings per ward of the UK given the provided data.	 EPC ratings by ward

TC 6.5 - Wind-driven rain - 2c warming	Expected Results	
Given I am on the map view **And** I click layers **And** I click wind-driven rain **When** I click 2c warming **Then** I see 2c warming data on the map view	The user should be able to see the 2c warming data for the UK given the provided data.	 2c warming - Wind-driven rain

TC 6.6 - Wind-driven rain - 4c warming	Expected Results	

Given I am on the map view **And** I click layers **And** I click wind-driven rain **When** I click 4c warming **Then** I see 4c warming data on the map	The user should be able to see the 4c warming data for the UK given the provided data.	 4c warming - Wind-driven rain

TC 6.7 - Wind-driven rain details	Expected Results	
Given I have a wind-driven rain layer enabled **When** I click a cel on the map **Then** I see the wind-driven rain details of that selected cel	The user should be able to click on a cel of the map to see more details regarding wind-driven rain.	 Wind-driven rain details - 2c warming Wind-driven rain details - 4c warming

TC 6.8 - Icing days	Expected Results	
Given I am on the map view **And** I click layers **And** I click icing days **When** I click a cel on the map **Then** I see the average icing days for that cel	The user should be able to see a visual representation of icing days data on the map and select a cel to see the specific data for that cel.	 Icing days data

TC 6.9 - Hot summer days	Expected Results	
Given I am on the map view **And** I click layers **And** I click hot summer days **When** I click a cel on the map **Then** I see the hot summer days data for that cel	The user should be able to see a visual representation of hot summer days data on the map and select a cel to see the specific data for that cel.	 Hot summer days data

TC 6.10 - Deprivation data	Expected Results	

Given I am on the map view **And** I click layers **And** I click high deprivation **When** I click a an area on the map **Then** I see the deprivation data for that area	The user should be able to see a visual representation of deprivation data on the map and select an area to see the specific data for that area. The user should be able to click the 'i' button to see more information on how deprivation is calculated against four household characteristics.	 Deprivation data  Household deprivation information

TC 6.11 - Hours of sunlight	Expected Results	
Given I am on the map view **And** I click layers **And** I click high deprivation **When** I click a an area on the map **Then** I see the deprivation data for that area	The user should be able to see a visual representation of hours of sunlight data on the map and select an area to see the specific data for that area. The user should be able to click the 'i' button to see more information on how hours of sunlight data is calculated.	 Hours of sunlight data Hours of sunlight data information

Dashboard

TC - 7

TC 6.1 - National View	Expected Results	
Given I am on the map view **And** I click dashboard **When** I click national view **Then** I see the national view page	The user should be able to navigate to the national view dashboard. The graph data displayed should be: • Overall EPC • EPC ratings by 'region' • Percentage of buildings with 'solar panels' per 'region' • Average SAP score over time	 Dashboard - National view option

	• EPC ratings over time • ‘House’ fuel types • EPC ratings for different ‘Glazing types’ • Percentage of homes that experience extreme weather • Expired vs in date EPCs • Percentage of homes that experience deprivation • Average hours of sunlight by ‘regions’	

TC 6.2 - National View - EPC ratings by regions	**Expected Results**	
Given I am on the national view page **And** I see the epc ratings by regions graph **When** I click the regions option **And** I select specific regions **Then** I see data for specific regions in the graph	The user should be able to change the ‘EPC ratings by regions’ graph to specific regions. By default the graph should display all regions data.	 EPC ratings by regions

TC 6.3 - National View - Percentage of buildings with characteristics per region	**Expected Results**	
Given I am on the national view page **And** I see the percentage of buildings with characteristics per region graph **When** I click the regions option **And** I select specific regions **And** I select the characteristics option **And** I select a specific characteristic **Then** I see data for specific regions in the graph **And** I see data for a specific characteristic	The user should be able to change the ‘Percentage of buildings with characteristics per region’ graph to specific characteristics and regions. By default the graph should be set to ‘Solar panels’ and include all region data.	 Percentage of buildings with characteristics per region

TC 6.4 - National View - Building fuel types	Expected Results	
Given I am on the national view page **And** I see the building fuel types graph **When** I click the buildings option **And** I select specific building type **Then** I see data for specific building fuel types in the graph	The user should be able to change the 'Building fuel types' graph to specific building types. By default the graph should display House fuel types.	 Building fuel types

TC 6.5 - National View - EPC ratings for different characteristics	Expected Results	
Given I am on the national view page **And** I see the average daily hours of sunlight by regions graph **When** I click the regions option **And** I select specific regions **Then** I see data for specific regions in the graph	The user should be able to change the 'EPC ratings for different characteristics' graph to specific characteristics. By default the graph should display Glazing types.	 Average daily hours of sunlight by regions

TC 6.6 - Area defined view	Expected Results	
Given I am on the map view **And** I click dashboard **And** I click draw area **When** I draw an area **And** I confirm the drawn area **Then** I see the area defined view page	The user should be able to navigate to the area defined view dashboard. The graph data displayed should be: • Overall EPC • Average SAP score over time • Average SAP score over time by property type • EPC ratings over time	 Confirm drawn area

	• Building fuel types • EPC ratings for different characteristics • Percentage of homes that experience extreme weather • Expired vs in date EPCs • Percentage of homes that experience deprivation • Average daily hours of sunlight	

TC 6.7 - Return to Area view	Expected Results	
Given I am on the area defined view **And** I click return to map view button **When** I click dashboard **And** I click area view **Then** I see the area defined view page	The user should be able to return to the map view by clicking the 'Return to map view' button on the Area defined view page. The user should be able to navigate back to the Area defined view page by clicking the contextual 'Area view' button in the Dashboard menu on the map view.	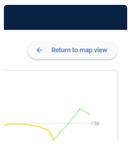 Return to map view button Area view button

TC 6.8 - Chosen area view	Expected Results	
Given I am on the map view **And** I click dashboard **When** I click chosen area **And** I confirm chosen defined areas **Then** I see the area defined view page via chosen areas	The user should be able to navigate to the area defined view dashboard (via chosen areas). The graph data displayed should be: • Overall EPC • Average SAP score over time • Average SAP score over time by area	 Chosen area - Districts 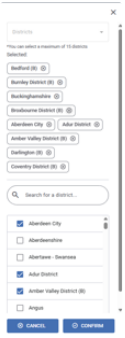 Chosen districts

	• EPC ratings over time • Building fuel types • EPC ratings for different characteristics • Percentage of homes that experience extreme weather • Expired vs in date EPCs • EPC ratings by districts • Percentage of homes that experience deprivation • Average daily hours of sunlight by area	