IRIS - User Guide 4: Using the Dashboard to View National and Filtered Area Statistics

Powered by guidde

The objective of this guide is to use the dashboard to view national and filtered area statistics in IRIS.

01 Accessing National Dashboard

To view statistics at the national level, click on the dashboard button towards the bottom right of the screen and select National View.

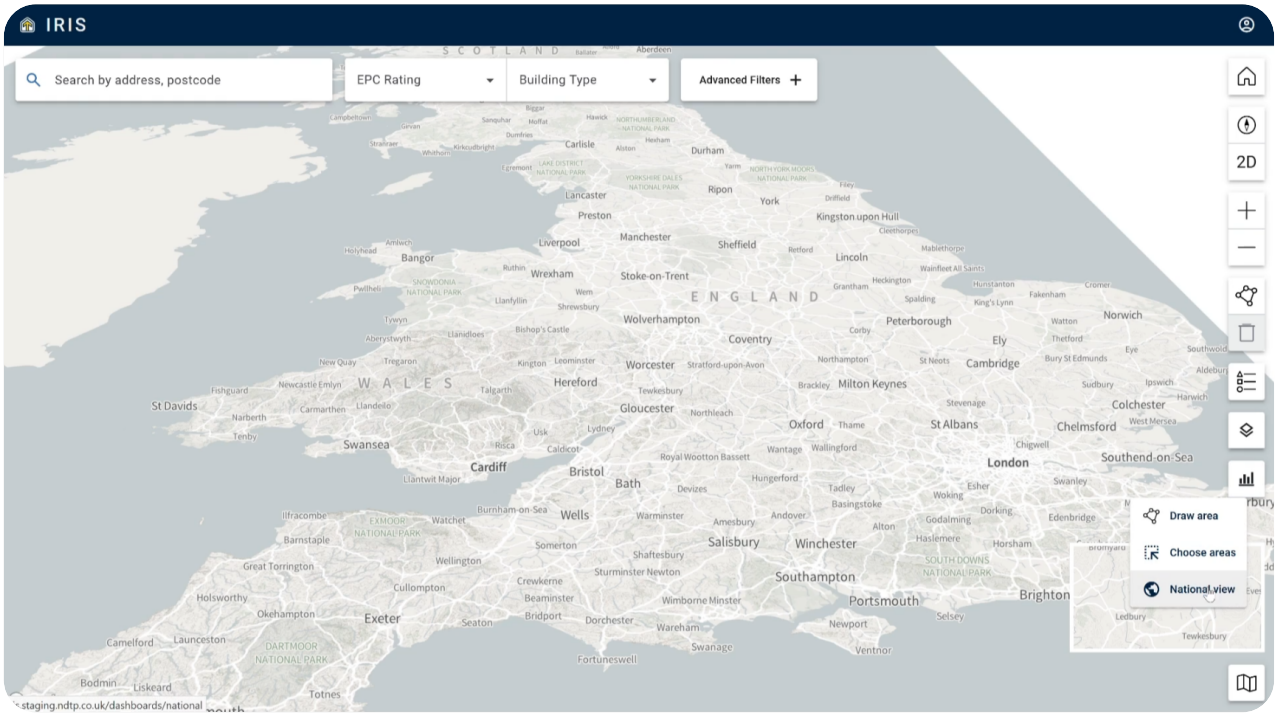

02 Dashboard Data Perspectives

This opens a dashboard page containing interactive and customizable charts which focus on various data perspectives such as energy performance, levels of deprivation, building attributes and many more.

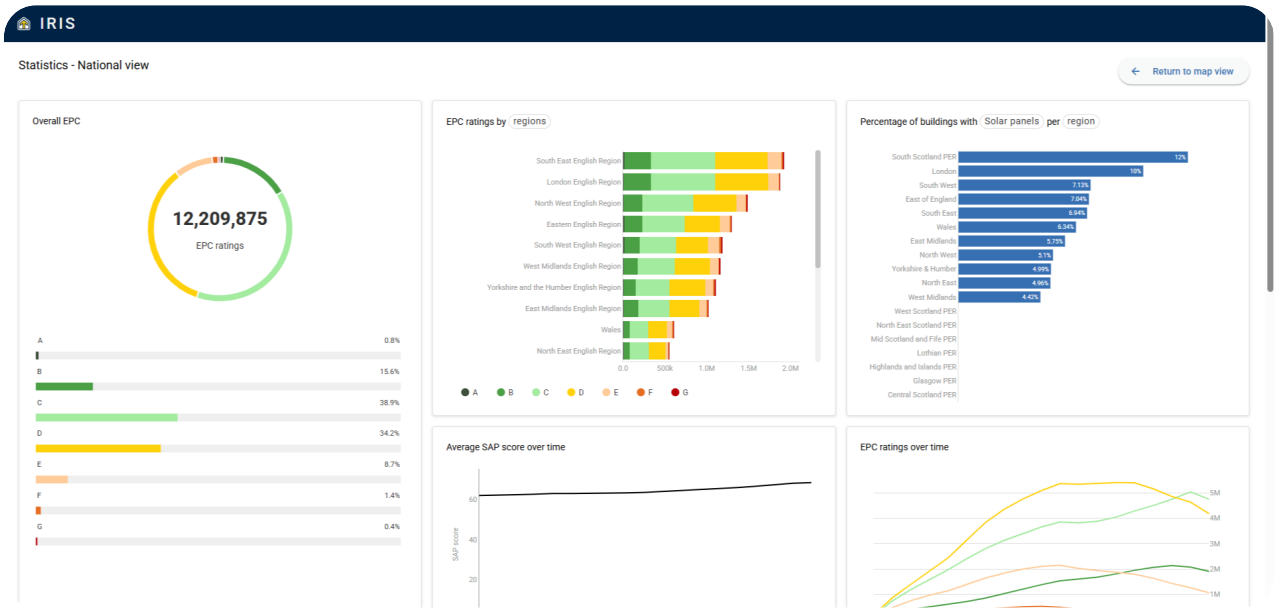

03 Customising And Exiting Dashboard

Customise a chart by clicking on an interactive element to make a change. Exit the dashboard and return to the map view by clicking on the button towards the top right corner.

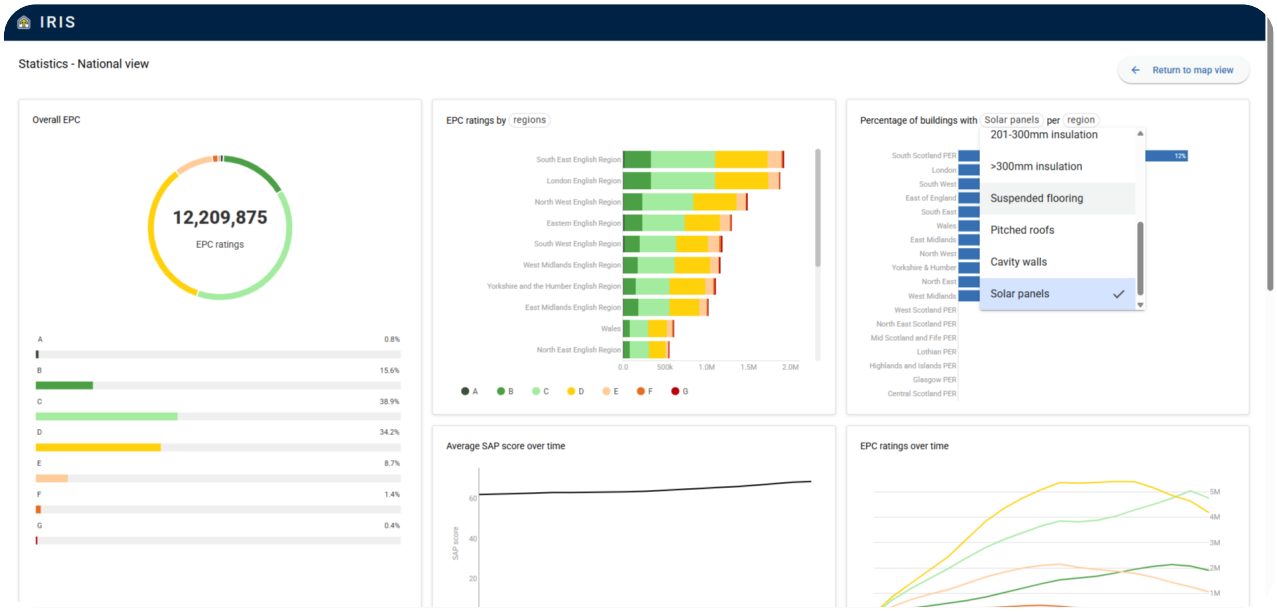

04 Defining Filter Area Polygon

To view dashboard statistics on a filter area, first begin by drawing a polygon to define the filter area. Draw the vertices of the filter area on the map. Once set, click on the dashboard button in the bottom right corner.

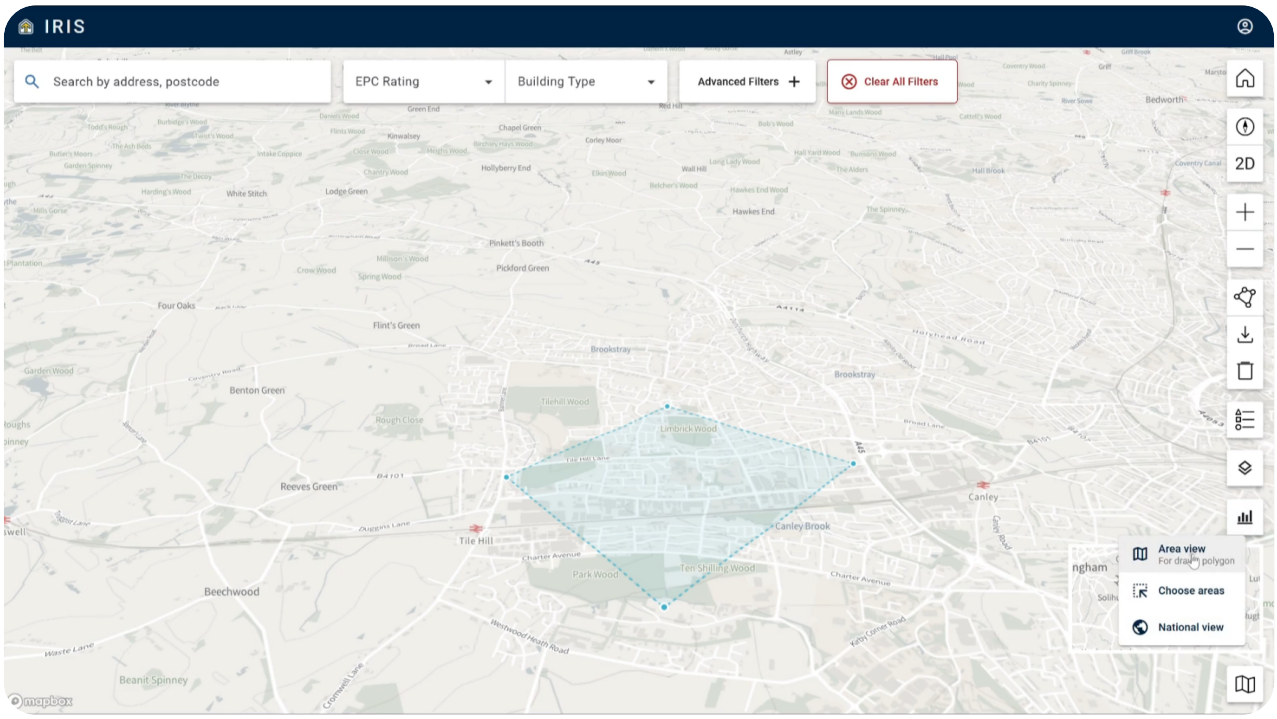

05 Filtered Statistics And Guide Completion

The dashboard statistics will now be based on the dwellings within the filter area.

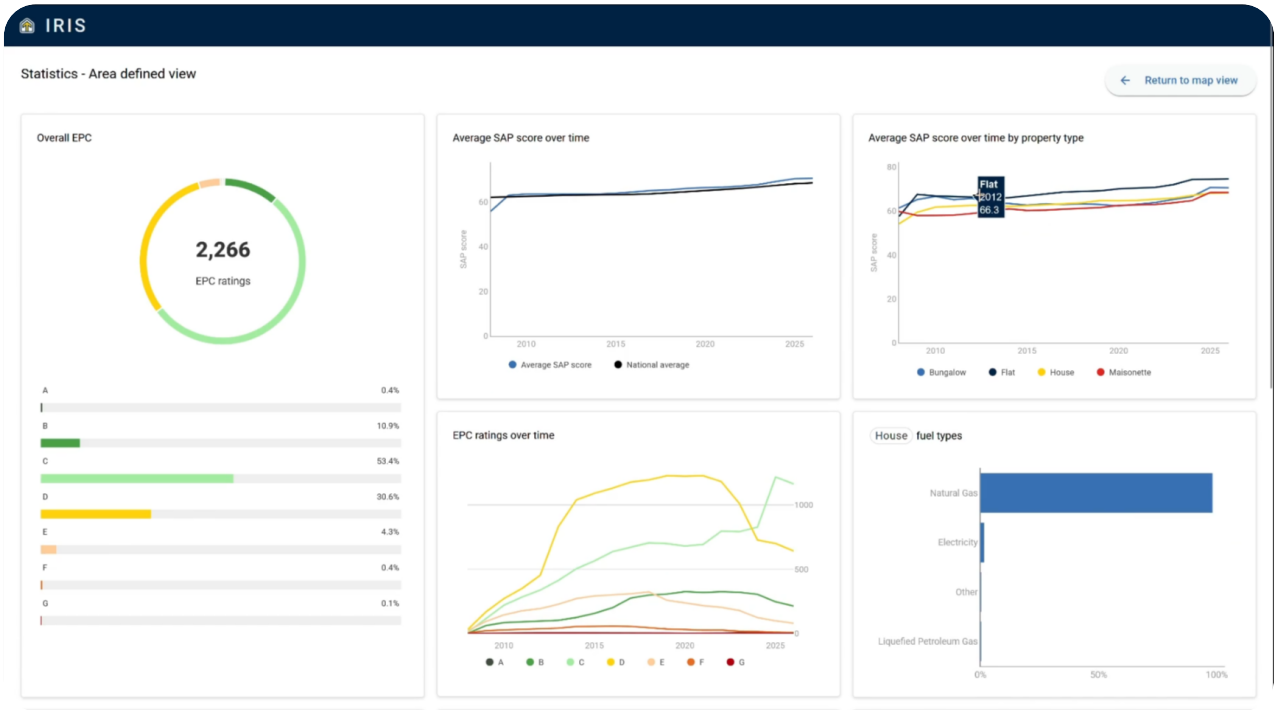

For further information about IRIS and the National Digital Twin Programme, visit www.ndtp.co.uk

Powered by guidde